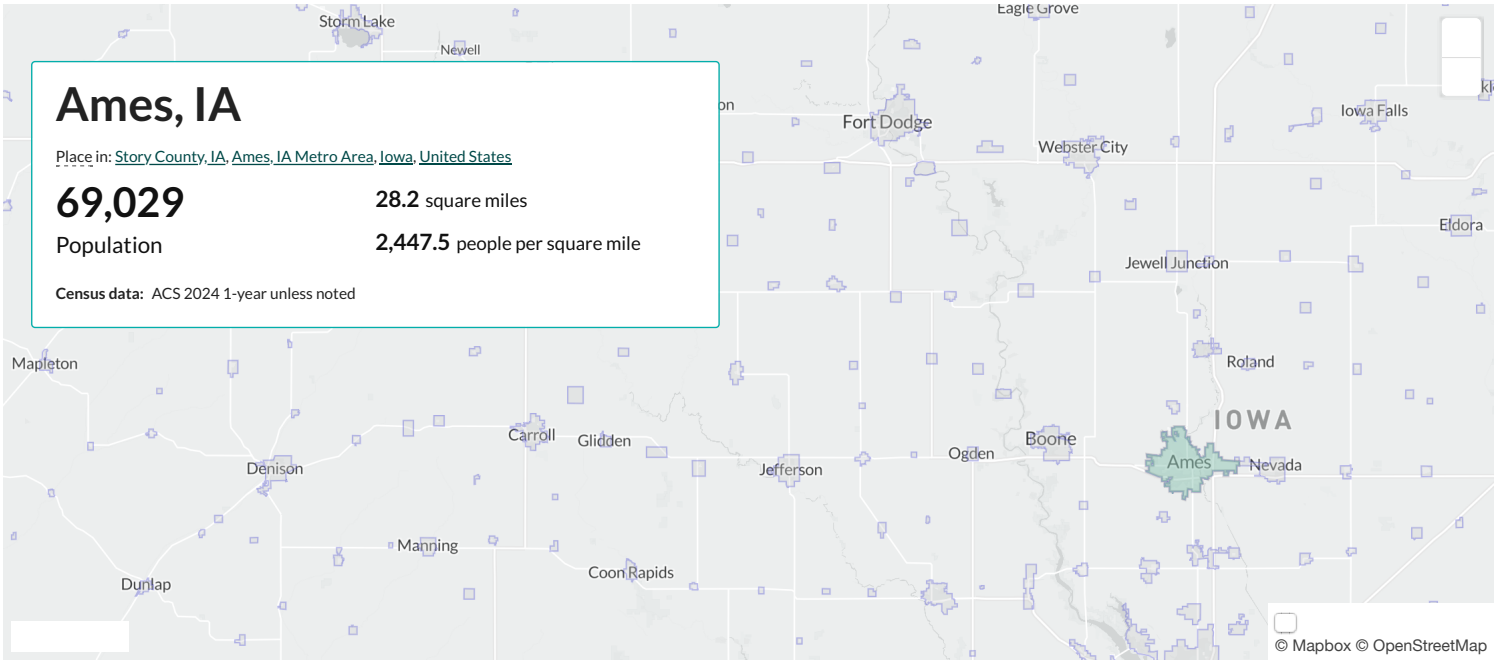


# Ames, IA

Place in: Story County, IA, Ames, IA Metro Area, Iowa, United States

**69,029**
Population

**28.2** square miles

**2,447.5** people per square mile

**Census data:** ACS 2024 1-year unless noted

**Find data for this place**

Hover for margins of error and contextual data.

## Demographics

† Margin of error is at least 10 percent of the total value. Take care with this statistic.

### Age

**23.9**
Median age

**about 80 percent** of the figure in the Ames, IA Metro Area: 29.9

**about three-fifths** of the figure in Iowa: 39

**about three-fifths** of the figure in United States: 39.2

**Population by age range**

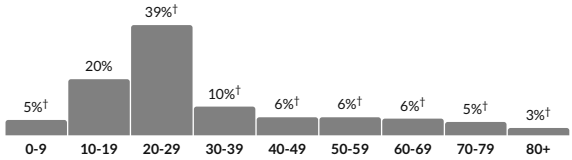


Show data / Embed

**Population by age category**

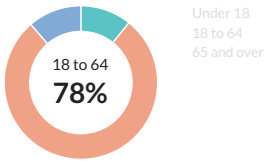


Show data / Embed

† Margin of error is at least 10 percent of the total value. Take care with this statistic.

### Sex

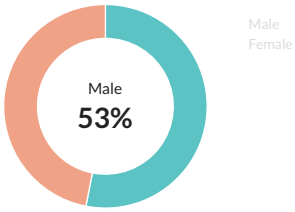


Show data / Embed

### Race & Ethnicity

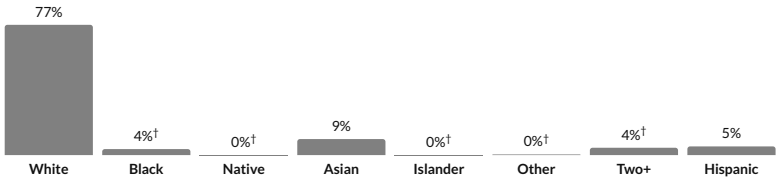


* Hispanic includes respondents of any race. Other categories are non-Hispanic.

Show data / Embed

## Economics

† Margin of error is at least 10 percent of the total value. Take care with this statistic.

### Income

**$32,338**
Per capita income

**about 90 percent** of the amount in the Ames, IA Metro Area: $37,572

**about 80 percent** of the amount in Iowa: $40,536

**about two-thirds** of the amount in United States: $45,256

**$58,709**
Median household income

**about 80 percent** of the amount in the Ames, IA Metro Area: $70,873

**about 80 percent** of the amount in Iowa: $75,501

**about three-quarters** of the amount in United States: $81,604

**Household income**

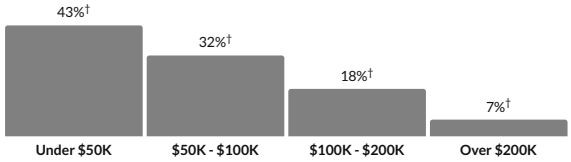


Show data / Embed

### Poverty

† Margin of error is at least 10 percent of the total value. Take care with this statistic.

# 23.9%

Persons below poverty line

**more than 1.5 times** the rate in the Ames, IA Metro Area: 14.4% †

**more than double** the rate in Iowa: 11.3%

**about double** the rate in United States: 12.2%

### Children (Under 18)

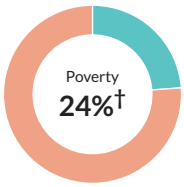


Poverty
Non-poverty

Show data / Embed

### Seniors (65 and over)

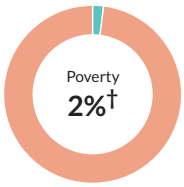


Poverty
Non-poverty

Show data / Embed

### Transportation to work

† Margin of error is at least 10 percent of the total value. Take care with this statistic.

# 15.6 minutes

Mean travel time to work

* ACS 2024 5-year data

**about 80 percent** of the figure in the Ames, IA Metro Area: 18.8

**about 80 percent** of the figure in Iowa: 19.8

**about three-fifths** of the figure in United States: 26.4

### Means of transportation to work

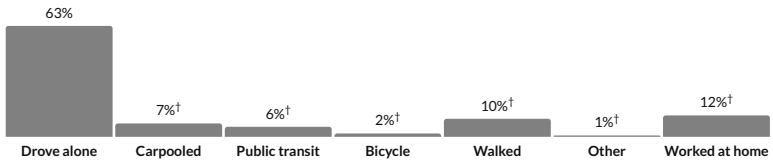


* Universe: Workers 16 years and over

Show data / Embed

## Families

### Households

# 26,827

Number of households

**the Ames, IA Metro Area**: 50,869

**Iowa**: 1,343,422

**United States**: 132,737,144

# 2.1

Persons per household

**about 90 percent** of the figure in the Ames, IA Metro Area: 2.3

**about 90 percent** of the figure in Iowa: 2.3

**about 80 percent** of the figure in United States: 2.5

### Population by household type

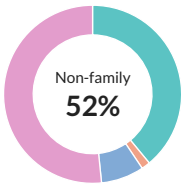


Married couples
Male householder
Female householder
Non-family

Show data / Embed

### Marital status

† Margin of error is at least 10 percent of the total value. Take care with this statistic.

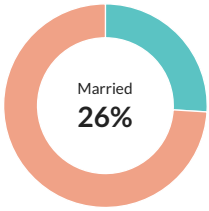


Married
Single

* Universe: Population 15 years and over

Show data / Embed

### Marital status, by sex

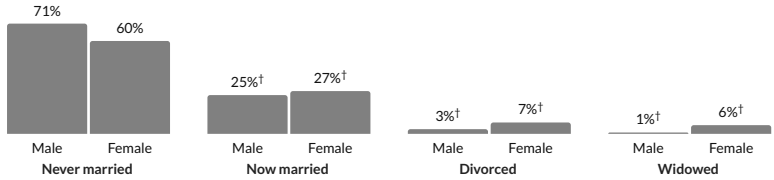


Show data / Embed

### Fertility

† Margin of error is at least 10 percent of the total value. Take care with this statistic.

# 1.4%

Women 15-50 who gave birth during past year

**about two-fifths** of the rate in the Ames, IA Metro Area: 3.5% †

**about one-quarter** of the rate in Iowa: 5.4%

**about one-quarter** of the rate in United States: 5%

### Women who gave birth during past year, by age group

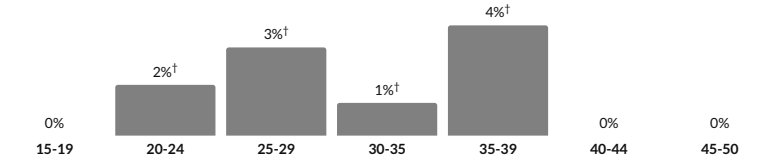


* Universe: Women 15 to 50 years

Show data / Embed

## Housing

### Units & Occupancy

# 28,700

Number of housing units

### Occupied vs. Vacant

### Ownership of occupied units

the Ames, IA Metro Area: 54,437
Iowa: 1,458,471
United States: 146,740,960

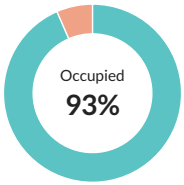


Occupied
Vacant

Show data / Embed

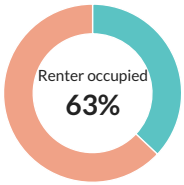


Owner occupied
Renter occupied

Show data / Embed

### Types of structure

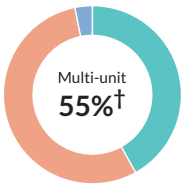


Single unit
Multi-unit
Mobile home
Boat, RV, van, etc.

Show data / Embed

### Year moved in, by percentage of population

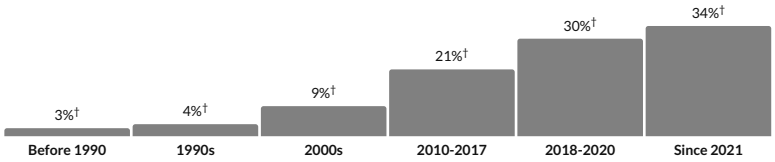


Show data / Embed

### Value

† Margin of error is at least 10 percent of the total value. Take care with this statistic.

**$298,500**

Median value of owner-occupied housing units

**about 10 percent higher** than the amount in the Ames, IA Metro Area: $279,700

**about 1.3 times** the amount in Iowa: $227,300

**about 80 percent** of the amount in United States: $360,600

### Value of owner-occupied housing units

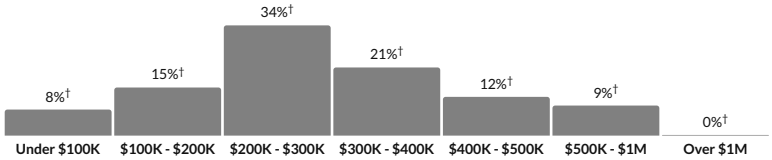


* ACS 2024 5-year data

Show data / Embed

### Geographical mobility

† Margin of error is at least 10 percent of the total value. Take care with this statistic.

**31.7%**

Moved since previous year

**about 1.5 times** the rate in the Ames, IA Metro Area: 21.1% †

**more than double** the rate in Iowa: 11.8%

**more than double** the rate in United States: 11.8%

### Population migration since previous year

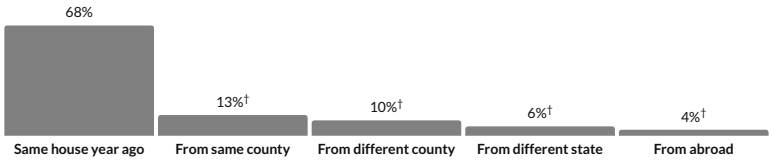


Show data / Embed

## Social

† Margin of error is at least 10 percent of the total value. Take care with this statistic.

### Educational attainment

**98.9%**

High school grad or higher

**about the same as** the rate in the Ames, IA Metro Area: 96.8%

**a little higher** than the rate in Iowa: 93%

**about 10 percent higher** than the rate in United States: 89.9%

**67.3%**

Bachelor's degree or higher

**about 1.4 times** the rate in the Ames, IA Metro Area: 48.9%

**more than double** the rate in Iowa: 32.1%

**nearly double** the rate in United States: 36.9%

### Population by highest level of education

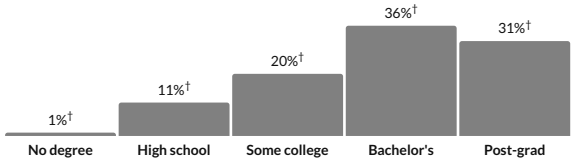


* Universe: Population 25 years and over

Show data / Embed

### Language

**N/A**

Persons with language other than English spoken at home

**Language at home, children 5-17**

No data available

**Language at home, adults 18+**

No data available

### Place of birth

† Margin of error is at least

**12.1%**

**Place of birth for foreign-born population**

10 percent of the total value. Take care with this statistic.

## Foreign-born population

**more than 1.5 times** the rate in the Ames, IA Metro Area: 7.3%

**nearly double** the rate in Iowa: 6.3%

**about 80 percent** of the rate in United States: 14.8%

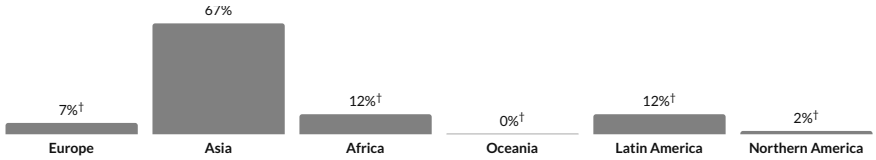


* ACS 2024 5-year data

Hide data / Embed

**Place of birth for foreign-born population (Table B05006)** View table

| Column | Ames | | | | Ames, IA Metro Area | | | | Iowa | | | | United States | | | |
|---|---|---|---|---|---|---|---|---|---|---|---|---|---|---|---|---|
| Europe | 6.7%† | ±2.4% | 529 | ±196 | 9.5%† | ±2.5% | 859 | ±237 | 9.1% | ±0.6% | 17,344 | ±1,163 | 10.3% | ±0% | 4,853,586 | ±22 |
| Asia | 67.1% | ±2.6% | 5,289 | ±508 | 60.9% | ±2.5% | 5,503 | ±501 | 32.7% | ±0.6% | 62,116 | ±1,632 | 30.8% | ±0.1% | 14,579,444 | ±37 |
| Africa | 11.9%† | ±3.3% | 936 | ±271 | 12.2%† | ±3.1% | 1,105 | ±298 | 16.5% | ±0.9% | 31,308 | ±1,727 | 5.8% | ±0.1% | 2,762,710 | ±24 |
| Oceania | 0.3%† | ±0.4% | 22 | ±35 | 0.2%† | ±0.4% | 22 | ±35 | 1.8%† | ±0.2% | 3,324 | ±384 | 0.6% | ±0% | 301,021 | ±6,2 |
| Latin America | 12.1%† | ±4.2% | 952 | ±338 | 14.9%† | ±4.2% | 1,348 | ±392 | 38.4% | ±0.7% | 72,934 | ±1,885 | 50.7% | ±0.2% | 24,012,140 | ±10 |
| Northern America | 1.9%† | ±1% | 153 | ±80 | 2.2%† | ±1.1% | 200 | ±99 | 1.6%† | ±0.3% | 2,962 | ±511 | 1.8% | ±0% | 839,815 | ±8,8 |

Hide data

† Margin of error is at least 10 percent of the total value. Take care with this statistic.

## Veteran status

**1.8%**

Population with veteran status

**about half** the rate in the Ames, IA Metro Area: 3.6% †

**about one-third** of the rate in Iowa: 6.2%

**about one-third** of the rate in United States: 5.9%

**Veterans by wartime service**

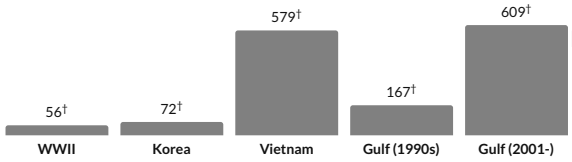


**1,133** Total veterans
**1,133** Male
**N/A** Female

* Civilian veterans who served during wartime only; ACS 2024 5-year data

Show data / Embed

Hover for margins of error and contextual data.

*This profile displays data from more than one ACS release. Charts not derived from ACS 2024 1-year data are noted with an *.*

**Citation:** U.S. Census Bureau (2024). *American Community Survey 1-year estimates.* Retrieved from *Census Reporter Profile page for Ames, IA* <http://censusreporter.org/profiles/16000US1901855-ames-ia/>

**Citation:** U.S. Census Bureau (2024). *American Community Survey 5-year estimates.* Retrieved from *Census Reporter Profile page for Ames, IA* <http://censusreporter.org/profiles/16000US1901855-ames-ia/>


Learn about the Census
Census terms & definitions
Help & feedback
About Census Reporter
@CensusReporter
Census Reporter on GitHub

Census Reporter is a free, open-source project. Your donations help us add new data to the site and keep it running.
Data on Census Reporter comes from the US Census Bureau and is not copyrighted.
Original text and data visualizations on CensusReporter.org by the Census Reporter project are licensed under CC BY 4.0